



Hiking with OSM


How to use and contribute to hiking data with OpenStreetMap

About this presentation:

 [User:grosjen](#)

 [User:Binnette](#)

 2022-04-11

 License MIT

PLAN

- 1** Intro
- 2** Use OSM
- 3** Contribute to OSM

1 Intro



Node networks

In Isère the routes are described according a Node Network (Réseau de Carrefours en français), it is not the case everywhere.



2 Use OSM



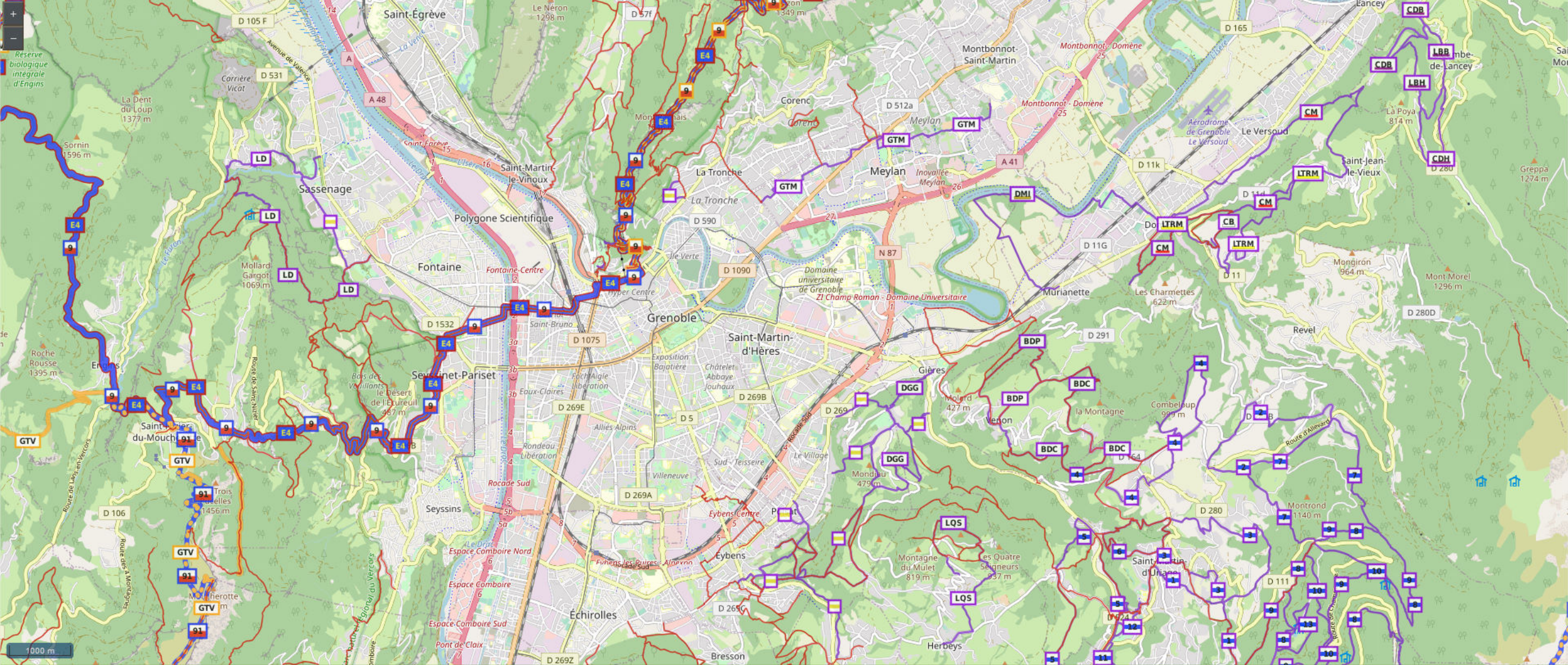
WaymarkedTrails - global view

WaymarkedTrails displays the data for some themes like hikinings.

Waymarked Trails: À pied

Dernière mise à jour: 03/04/22 13:40

Données cartographiques © OpenStreetMap sous ODbL. Carte de fond: OpenStreetMap





Waymarked Trails - hiking legend

The hikings routes are rendered according their types


- Red : Node networks
- Purple : Itinerary
- Blue bold : European route
- Red bold : Other major route (Ex: Saint-Jacques de Compostelle routes)
- Orange bold : Round Trip (EX: Grand Tour du Vercors)




WaymarkedTrails - data





We can click on a route to inspect the OSM object.

Poteau indicateur 1938076517 ✕

Poteau indicateur 1938076517 

 Afficher sur la carte

▼ Destinations

-  Äußerer Pilsberg (Alm)
-  Weißbrunn
Lago Fontana Bianca 30 min
-  Höchster Hütte
Rifugio Canziani 1h 20
-  Zufritt
Gioveretto 4h 20

[Plus de détails](#)

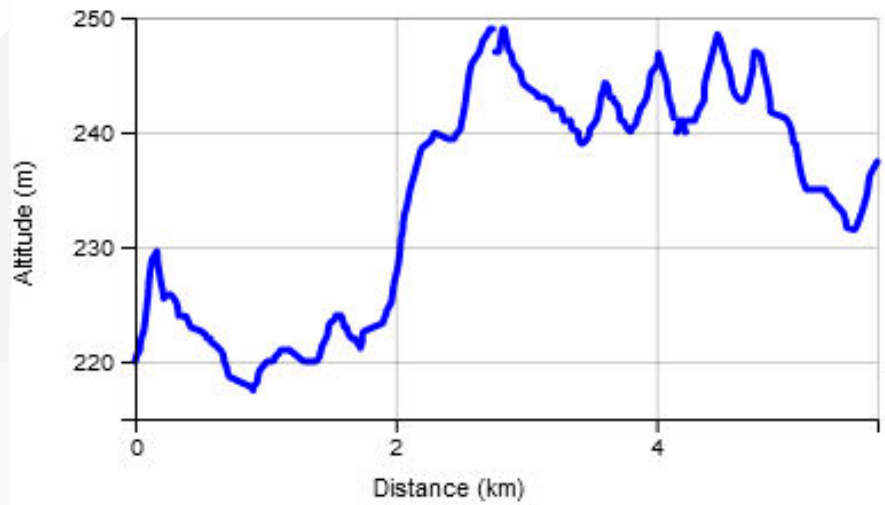
▼ Balises OpenStreetMap

clé	valeur
information	guidepost
tourism	information

Grande Traverse de Meylan **GTM**

Longueur cartographiée: 5.6 km
Opérateur: Ville de Meylan

▼ Profil d'altitude



Dénivelé total: ↗ 20m ↘ 0m

▼ Balises OpenStreetMap

clé	valeur
name	Grande Traverse de Meylan
network	lwn
operator	Ville de Meylan
route	hiking
type	route

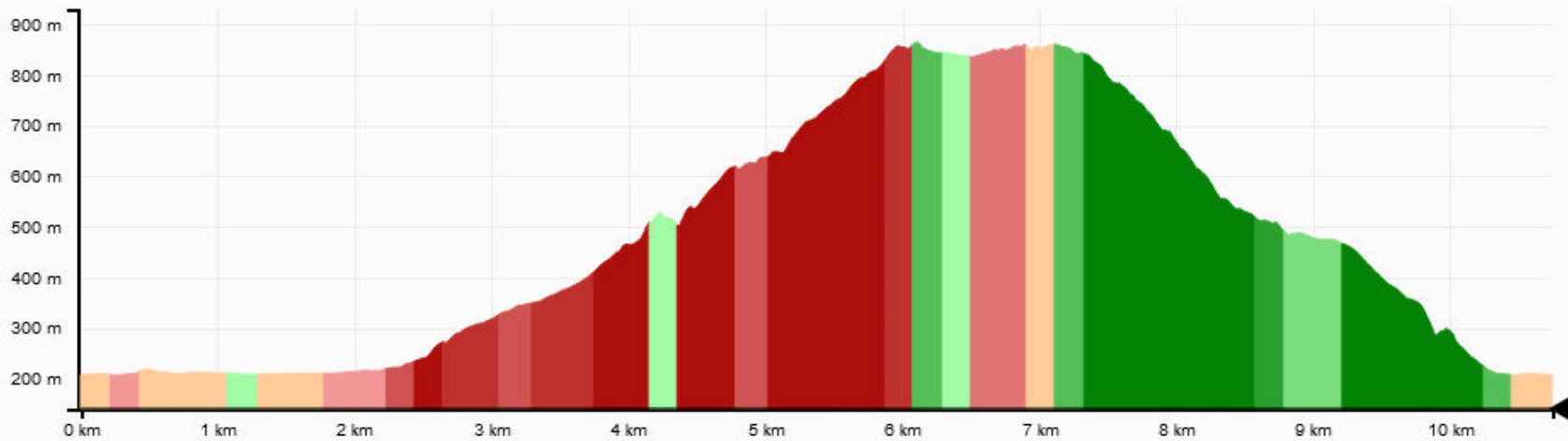
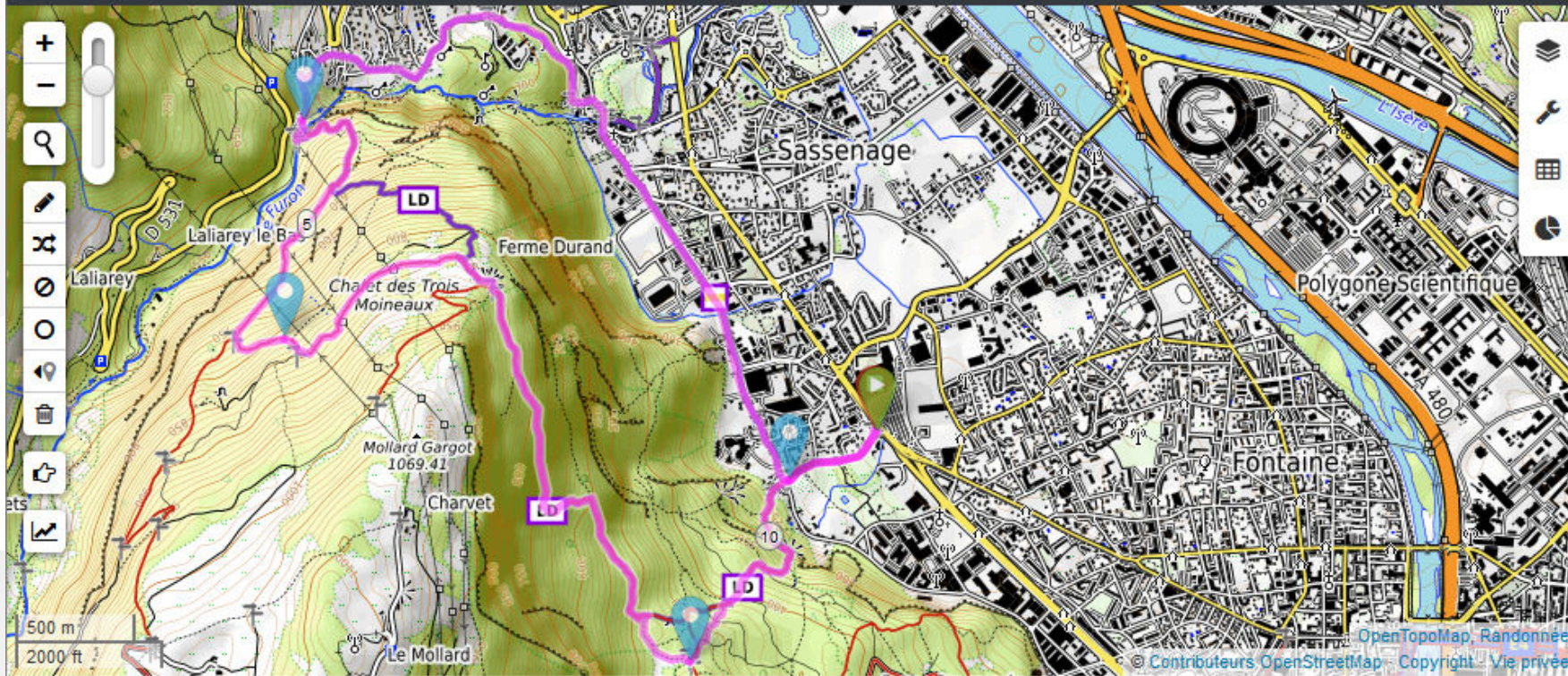
Brouter

Brouter allow to plan trip for several mean of transport.

It has a hiking beta mode and uses the WaymarkedTrails layer among others.

⚠️ Computation are done on all the paths, not only the hiking paths.

We can export the GPX track.



Distance
11,1 km

Temps de trajet
3:41 h

Énergie totale | pour 100km
0,17 kWh | 1,53 kWh

Dénivelé cumulé | faux plat
689 m | 3 m

Coût | Facteur coût moyen
22772 | 2,06



GraphHopper

GraphHopper allow to plan trip for several mean of transport.

It doesn't use WaymarkedTrails layer but Thunderforest Outdoors where we see the hiking routes.

⚠️ Computation are done on all the paths, not only the hiking paths.

We can export the GPX track.



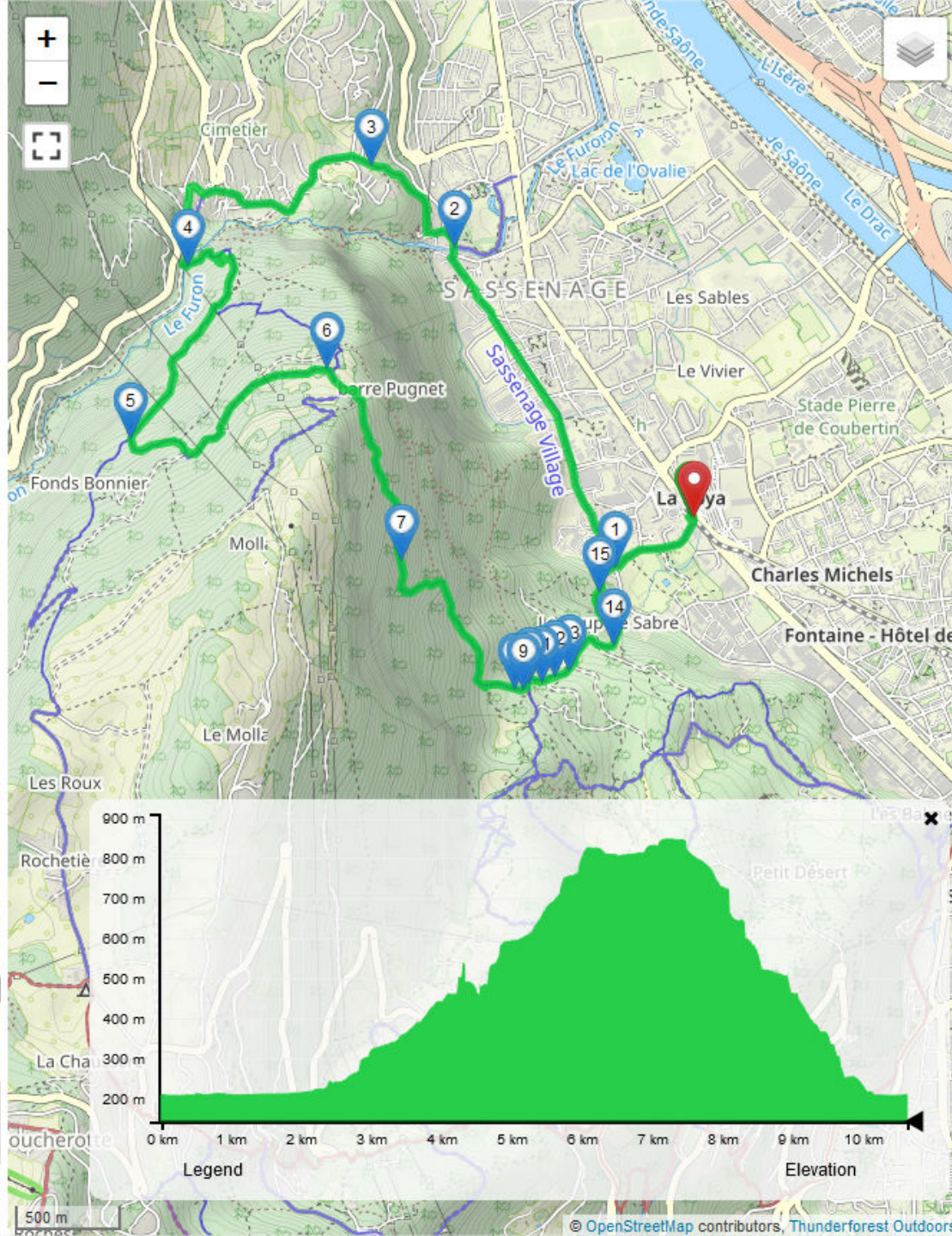
- 45.197001,5.672287 ⊗
- 1 ● 45.194875,5.667765 ⊗
- 2 ● 45.2084,5.658152 ⊗
- 3 ● 45.211851,5.65319 ⊗
- 4 ● 45.207622,5.642145 ⊗
- 5 ● 45.200286,5.638738 ⊗
- 6 ● 45.203268,5.65047 ⊗
- 7 ● 45.195148,5.654976 ⊗
- 8 ● 45.189716,5.661778 ⊗
- 9 ● 45.189701,5.662261 ⊗
- 10 ● 45.189946,5.662551 ⊗
- 11 ● 45.190049,5.663356 ⊗
- 12 ● 45.190264,5.664133 ⊗
- 13 ● 45.190521,5.66497 ⊗
- 14 ● 45.191565,5.667642 ⊗
- 15 ● 45.193825,5.666832 ⊗
- 45.196993,5.672427 ⊗

custom gpx

Search

Powered by [GraphHopper API](#)

11.11km will take 3h 20min km|mi
 ↗821m ↘821m



OsmAnd

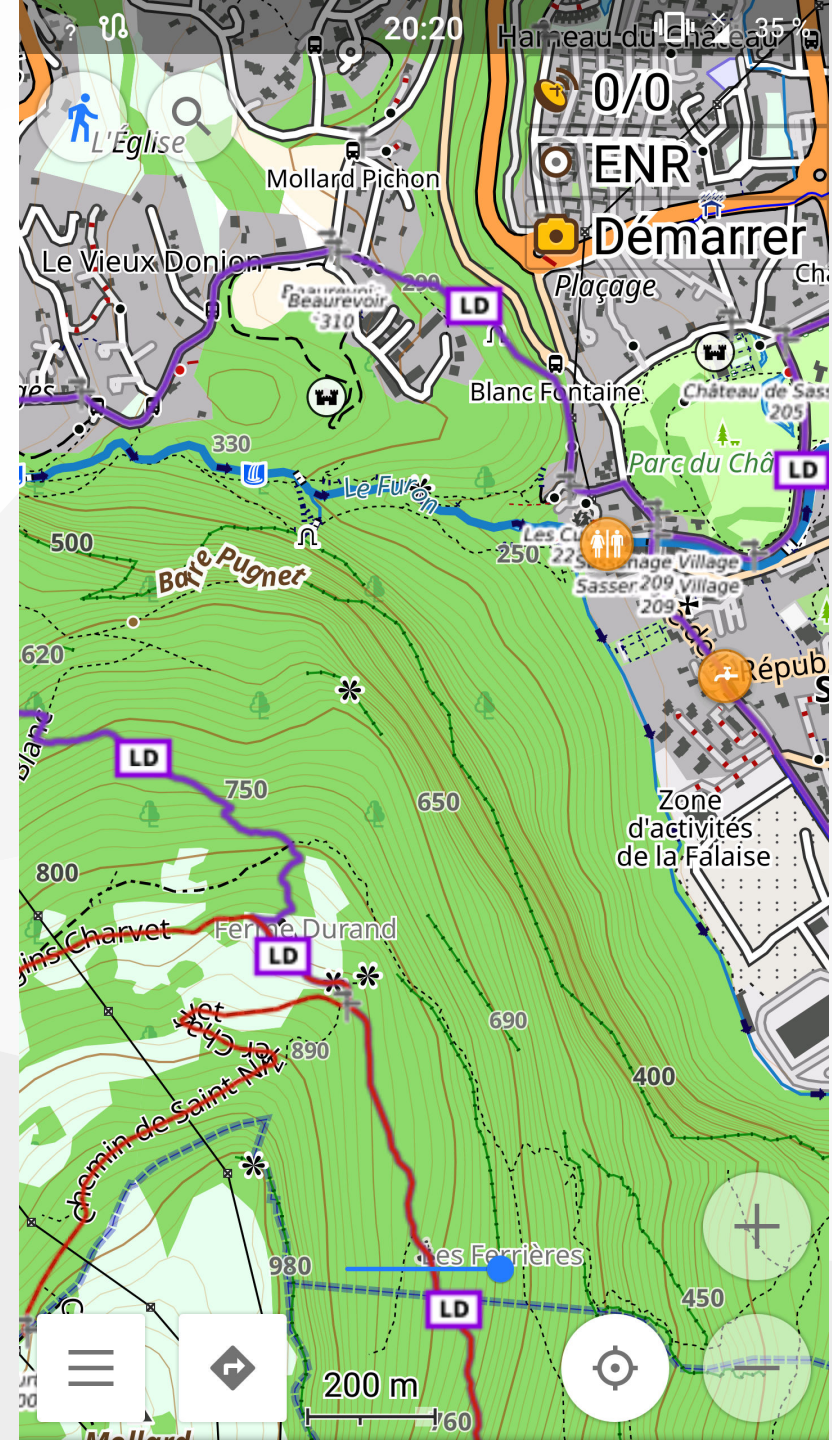
Download map to see them offline

(with no download limit with OpenSource version downloadable with FDroid).

You can set several profile, and so dedicate one for hiking.

OsmAnd - Waymarked Trails

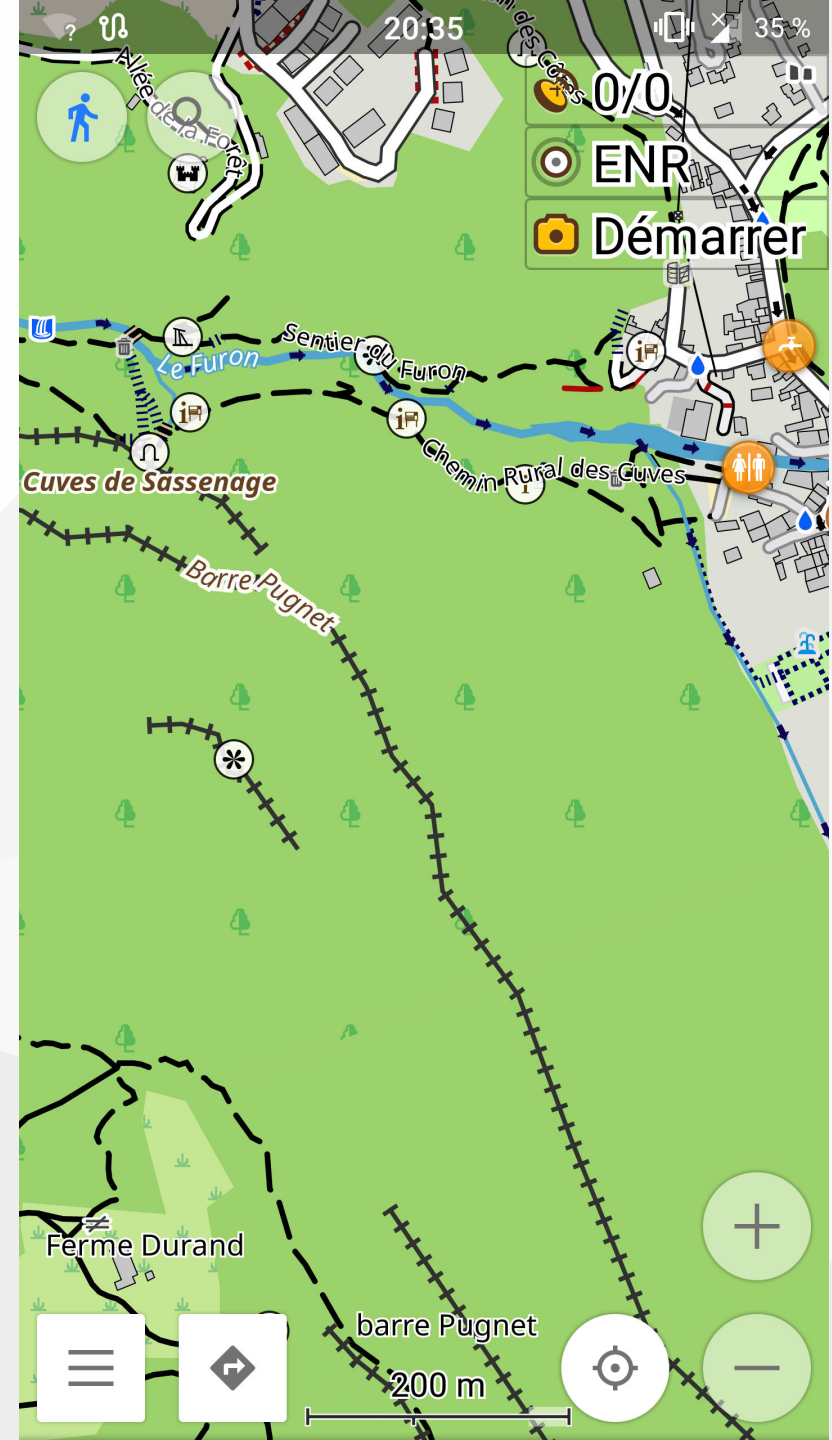
We can add Waymarked Trails in the overlay of a map with the Topo style.



OsmAnd - Hiking Style

A contributor on the OSM Plein Air Telegram shared a [hike style](#).

It uses the tags *trail_visibility* and *sac_scale*.



OsmAnd - Load GPX track

We can load the GPX track we have generated with Brouter, GraphHopper, ... or found on the internet.

Simply put the file on your smartphone and open it with OsmAnd.

You can change the track color in the map settings.

3 Contribute to OSM

Photos

You can take geolocalised photos of guideposts and upload them to some websites.

- Wikimedia Commons : a category by department, [for example for Isère's guideposts](#)
- [Mapillary](#)



JOSM

Noob friendly guide

Several concepts :

- Guidepost
- Node of the network
- Route between nodes
- Network (a Community of Municipalities + an activity = a network)

Work in progress on the way to map and on the mapping completion in France.



OpenData in Isère

- Métropole :
 - [Tracks](#)
 - [Guideposts](#)
- [Department](#)

Appendix

- [Groupe Telegram Plein Air](#)
- [Tutoriel d'installation d'OSMAnd et de traces GPX](#)
- [OsmAnd hike style](#)
- On OSM wiki:
 - [Projet Plein Air](#)
 - [Réseaux de carrefours](#)
 - [Randonnée pédestre](#)
 - [OsmAnd](#)



Any question ?

- Feel free to contact us by private message:
 - On OSM:
 - <https://www.osm.org/user/NicolasGrosjean>
 - <https://www.osm.org/user/Binnette>
 - On the Wiki:
 - <https://wiki.openstreetmap.org/wiki/User:grosjen>
 - <https://wiki.openstreetmap.org/wiki/User:Binnette>